BAHRIA UNIVERSITY KARACHI CAMPUS

DEPARTMENT OF COMPUTER SCIENCE

Bahria University
Discovering Knowledge

AI LAB (CSL- 411)

BSIT 6A-FALL 2025

Smart Travel Planner – An AI-Based Intelligent Trip Planning System

Submitted by:

HUZAIFA ALI 02-235231-027

M.IZHAN KHAN 02-235231-045

HUZAIFA NADEEM 02-235231-032

Submitted To: *Ms. Madiha Aslam*

Submitted On:

Dec 22ND 2025

Acknowledgement

First and foremost, I bow my head in gratitude to The Almighty, the compassionate and merciful, who bestowed upon me the health, strength, and wisdom to complete this project successfully.

I would like to express my deepest appreciation and sincere gratitude to my distinguished course instructor, [Insert Instructor Name], for their invaluable guidance, continuous encouragement, and scholarly advice throughout the course of this project. Their expert knowledge in the field of Artificial Intelligence provided the solid foundation necessary for me to understand and implement complex algorithms like A* Search and Machine Learning models.

I am also highly thankful to the Department of Computer Science at Bahria University for providing the state-of-the-art laboratory facilities and a conducive learning environment that made the practical implementation of this work possible.

Finally, I must acknowledge the unwavering support of my parents and friends. Their encouragement, patience, and moral support have been my source of strength during the challenging phases of this academic endeavor. This project would not have been possible without the collective support of all these individuals and institutions.

Abstract

The "Pakistan Travel Assistant" is a comprehensive, intelligent web-based application designed to modernize the experience of planning inter-city travel within Pakistan. The system represents a convergence of classical Artificial Intelligence pathfinding algorithms and contemporary Machine Learning techniques to address the dual challenges of navigation and financial forecasting. At its core, the application utilizes the A* (A-Star) Search algorithm to traverse a complex graph-based representation of the road network, ensuring the identification of optimal routes between major cities. To address the economic aspect of travel, the system integrates a Supervised Learning model—specifically a Random Forest Regressor—to predict travel costs with high accuracy based on variable distances and distinct vehicle types such as cars, bikes, or buses. Additionally, the inclusion of a rule-based chatbot enhances user engagement by providing instant responses to common travel queries. Built upon a robust technical stack comprising a Python Flask backend, a MongoDB NoSQL database for history retention, and a responsive HTML frontend, this project serves as a practical demonstration of applied AI in a real-world utility software.

Table of Contents

Acknowledgement.....2

4. Introduction 4

5. Problem Statement 4

6. Existing Systems 4

7. Objectives and Goals 5

8. Project Scope.....5

9. Workflow (UML Representation) 6

10. Overview of Project 7

11. Tools and Technologies.....7

12. Project Features 8

13. Implemented Concepts (Course: Artificial Intelligence) 8

14. Output 9

15. Future Work.....10

16. Conclusion.....10

17. References 10

18. PROJECT LINK 11

4. Introduction

In the context of developing regions, travel planning is often a fragmented process. Travelers frequently struggle to find integrated tools that combine efficient geographical routing with customized, localized cost estimation. While global mapping giants provide sophisticated routing capabilities, they often lack the granularity required for local economic contexts—specifically regarding the diverse modes of transport available in Pakistan, such as private motorbikes or inter-city van services. Consequently, travelers are forced to rely on estimation or disparate tools to plan their journeys and budgets.

This project introduces the "Smart Travel Assistant," a unified platform designed to bridge this gap. By solving two critical problems simultaneously—finding the shortest path between cities and predicting the associated financial cost—the system provides a holistic planning solution. It leverages a graph-based mathematical representation of the Pakistani road network for navigation and utilizes historical pricing data to train a predictive model for cost estimation. This application not only simplifies the user experience but also serves as a testament to the power of integrating multiple AI sub-disciplines into a single cohesive system.

5. Problem Statement

Travelers in Pakistan currently face significant uncertainty regarding two primary factors: route optimization and accurate cost budgeting. Finding the shortest path based on actual road infrastructure, rather than simple straight-line displacement, is a complex computational challenge that requires graph theory. Furthermore, predicting the financial cost of a trip is notoriously difficult due to the variance in fuel consumption and ticketing prices across different vehicle types; for example, the cost dynamics of a motorbike differ vastly from those of a luxury bus or a private car. Existing digital solutions often treat these problems in isolation, forcing users to toggle between map applications for directions and calculator apps or manual estimates for budgeting. There is a distinct lack of a centralized platform that calculates the optimal route and immediately assigns a scientifically predicted cost to it, while also maintaining a personal history of these plans for future reference.

6. Existing Systems

To understand the significance of the proposed solution, it is essential to analyze the current landscape of travel tools. The most dominant system, Google Maps, offers state-of-the-art routing based on real-time GPS and satellite data. However, its cost estimation features are largely limited to generic fuel calculations or ride-share estimates that do not reflect the specific inter-city transport rates (e.g., bus fares) prevalent in Pakistan. Furthermore, Google Maps operates as a closed cloud ecosystem where users cannot manage their own raw data.

Ride-hailing services like Uber and Careem represent another category of existing systems. While they excel at providing cost estimates, their pricing models are dynamic, dependent on real-time demand (surge pricing), and are primarily architected for intra-city (within city) travel rather than long-haul inter-city journeys. Additionally, these platforms do not allow users to simulate trips for personal vehicles like private bikes.

Our proposed project differentiates itself by offering a customizable, offline-capable solution. Unlike the aforementioned systems, it employs a transparent Graph-based A* implementation for routing and a specific Machine Learning model trained on local data. This allows for cost predictions that are tailored to the specific vehicle types common in Pakistan, without the need for external account dependencies or internet-based dynamic pricing models.

7. Objectives and Goals

The primary technical objective of this project is to implement the A* Search Algorithm to effectively find optimal paths within a weighted graph representation of the road network. A secondary, yet equally critical goal, is to train and deploy a Machine Learning model using a Random Forest Regressor to accurately predict travel costs based on calculated distances and selected vehicle categories.

From a development perspective, the project aims to construct a robust RESTful API using the Flask framework to expose these AI capabilities to a user-friendly frontend. Furthermore, the system aims to implement persistent data management using a MongoDB database to allow users to save and retrieve their trip history. Finally, the project seeks to enhance user accessibility through the integration of a chatbot interface, providing immediate assistance and improving the overall user experience.

8. Project Scope

The scope of this project is strictly defined to ensure a focused and high-quality implementation. Geographically, the system is limited to inter-city travel planning within Pakistan, utilizing a specific OpenStreetMap shapefile dataset (`hotosm_pak_roads_lines_shp.shp`) to construct the road network. In terms of transportation modes, the system supports three distinct vehicle types: Bike, Car, and Bus/Van.

Technologically, the application is designed to function as a local web server solution. It operates on a static road network assumption, meaning it calculates optimal routes based on fixed distances and road connectivity rather than real-time traffic congestion data. The cost prediction model is scoped to use supervised learning on a predefined dataset, providing statistical estimates rather than real-time commercial ticketing prices.

9. Workflow (UML Representation)

The operational workflow of the system is designed as a linear sequence of events. The process initiates at the **User Interface layer**, where the client inputs the Start City, End City, and Vehicle Type. This action triggers a secure HTTP POST request to the **Application Layer (Flask API)**.

Upon receiving the data, the backend first engages the **Geocoding Module** (using Geopy) to translate textual city names into precise geographical coordinates (latitude and longitude).

Next, these coordinates are passed to the **Graph Processing Module**, which utilizes a KDTree spatial index to map the coordinates to the nearest valid nodes on the road network graph. Once the nodes are identified, the **AI Pathfinding Module** executes the A* Search algorithm to compute the shortest path and total distance. This distance value is then forwarded to the **Machine Learning Module**, which inputs the distance and vehicle type into the Random Forest model to generate a cost prediction. Finally, the **Data Persistence Layer** saves the entire transaction to MongoDB, and the processed results are returned to the User Interface for display.

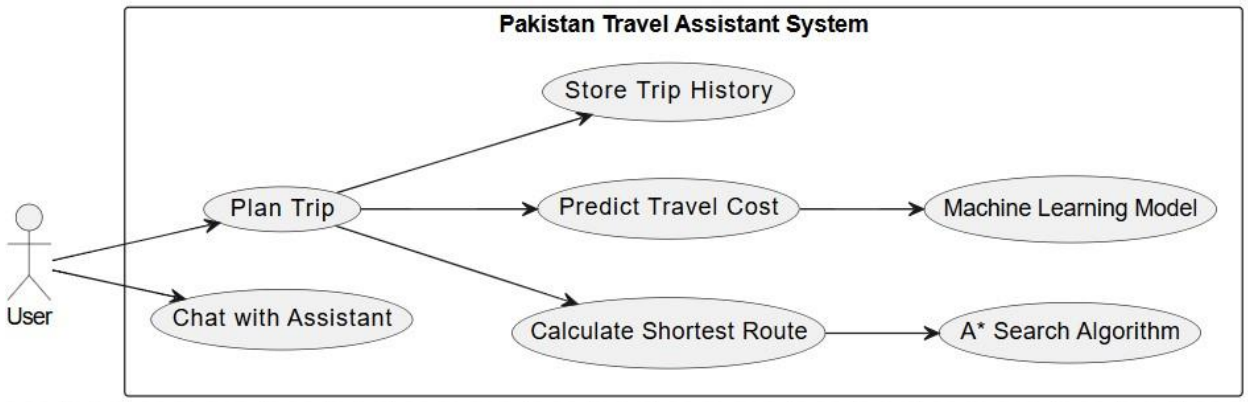

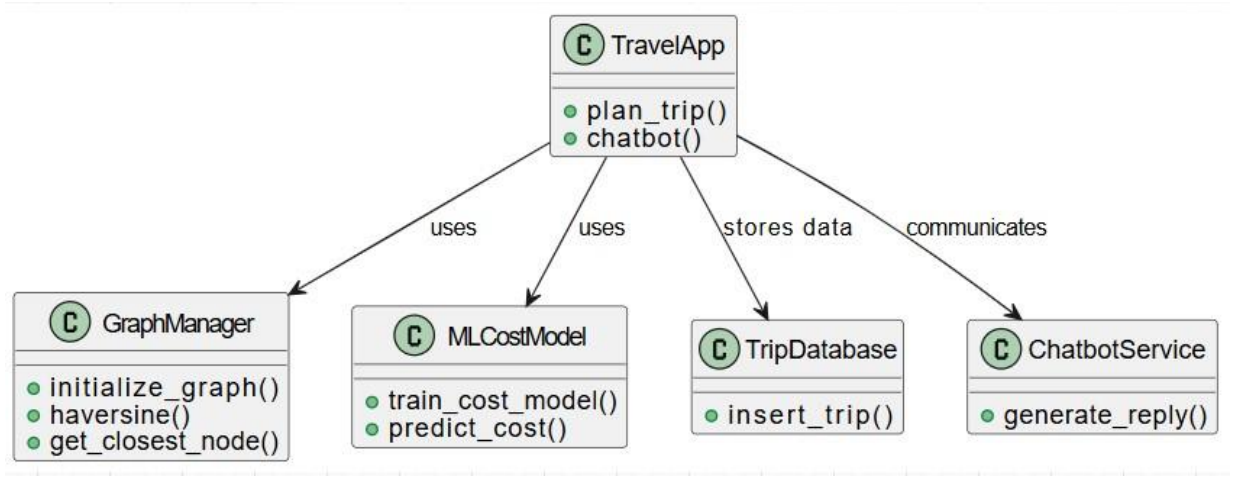

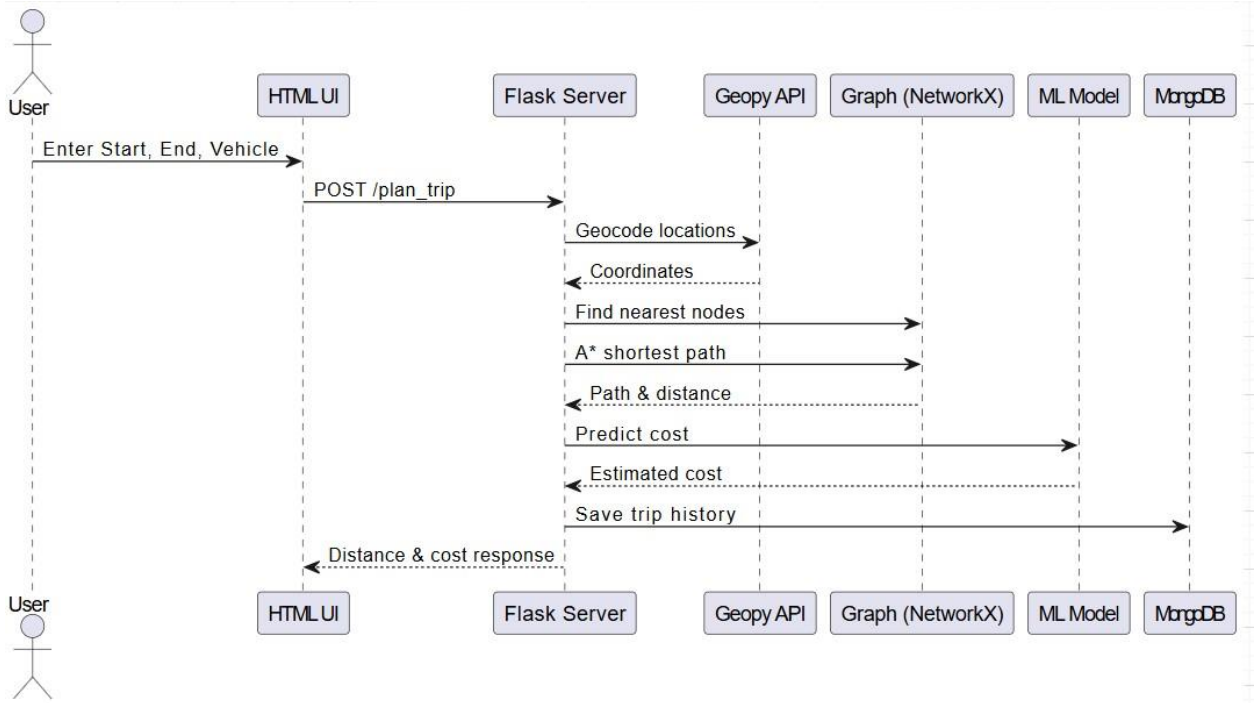

10. Overview of Project

The "Pakistan Travel Assistant" is a full-stack web application that serves as a bridge between theoretical Artificial Intelligence concepts and practical software engineering. The architecture is divided into a backend and a frontend. The backend, built with Python and Flask, acts as the brain of the system, handling data ingestion, graph generation, and machine learning inference. The frontend is a lightweight, responsive HTML/JavaScript interface that focuses on user interaction. When the application launches, it performs a heavy initialization phase where it loads the geospatial shapefiles, constructs the network graph in memory, and trains the machine learning model. This pre-computation ensures that subsequent user requests are handled with minimal latency, providing a seamless experience.

11. Tools and Technologies

The development of this project relied on a specialized stack of modern tools and libraries. Python was selected as the core programming language due to its unparalleled support for data science and AI development. Flask was utilized as the web framework to create the API endpoints, offering a lightweight yet extensible foundation.

For the frontend, standard HTML5, CSS3, and Vanilla JavaScript were used to ensure broad compatibility and a responsive design without the overhead of heavy frontend frameworks. MongoDB was chosen as the database solution; its NoSQL document structure is ideal for storing variable trip data JSON objects. The AI components were built using NetworkX for graph

algorithms, Scikit-Learn for the Random Forest regression model, GeoPandas and Shapely for processing geospatial vector data, and Geopy for coordinate conversion.

12. Project Features

The system encompasses a variety of features categorized into functional and non-functional requirements. Functionally, the core feature is Route Calculation, allowing users to determine the shortest path between two points. The Cost Estimation feature provides financial insights based on the selected mode of transport. The Interactive Chatbot serves as a functional support agent, answering rule-based queries about travel. Additionally, History Management ensures that every trip planned by the user is automatically archived in the database.

Non-functionally, the project emphasizes Responsiveness, ensuring the UI adapts to various screen sizes. Performance is optimized through the use of KDTree indexing, which accelerates the search for graph nodes significantly. Reliability is handled through exception management; for instance, the system includes fallback mechanisms to load dummy nodes if the primary dataset fails to initialize, preventing a complete system crash.

13. Implemented Concepts (Course: Artificial Intelligence)

A. Heuristic Search (A* Algorithm) A central concept applied in this project is Heuristic Search, specifically the A* (A-Star) Algorithm. Unlike blind search methods like Breadth-First Search, A* uses a heuristic function—in this case, the Haversine distance—to estimate the cost from the current node to the goal. This makes the search significantly more efficient by prioritizing paths that appear to lead closer to the destination. *Code Implementation:*

Python
```
def haversine(lat1, lon1, lat2,
lon2):
    # Heuristic function calculating straight line distance
R = 6371  # Earth radius in km
    phi1, phi2, dphi, dlambda = map(math.radians, [lat1, lat2, lat2-lat1,
lon2-lon1])
    a = math.sin(dphi/2)**2 +
math.cos(phi1)*math.cos(phi2)*math.sin(dlambda/2)**2
return 2 * R * math.atan2(math.sqrt(a), math.sqrt(1-a))
# Executing A* Search on the Graph G path = nx.astar_path(G,
start_node, end_node, weight='weight')
```

B. Supervised Machine Learning (Regression) The project also implements Supervised Learning using a Random Forest Regressor. This model is trained on labeled data where the input features are distance and vehicle type, and the target variable is the cost. The model "learns" the pricing structure during the initialization phase and applies this logic to predict costs for new user queries. *Code Implementation:*

Python
```
def
train_cost_model():
    # Training Data: [[Distance, Vehicle_Type]] -> [Cost]
```

```
    X = [[100, 1], [100, 2], [100, 3], [500, 1], [500, 2], [500, 3]]
    y = [600, 4000, 1500, 3000, 20000, 7500]
    model = RandomForestRegressor(n_estimators=100).fit(X, y)
return model
```

14. Output

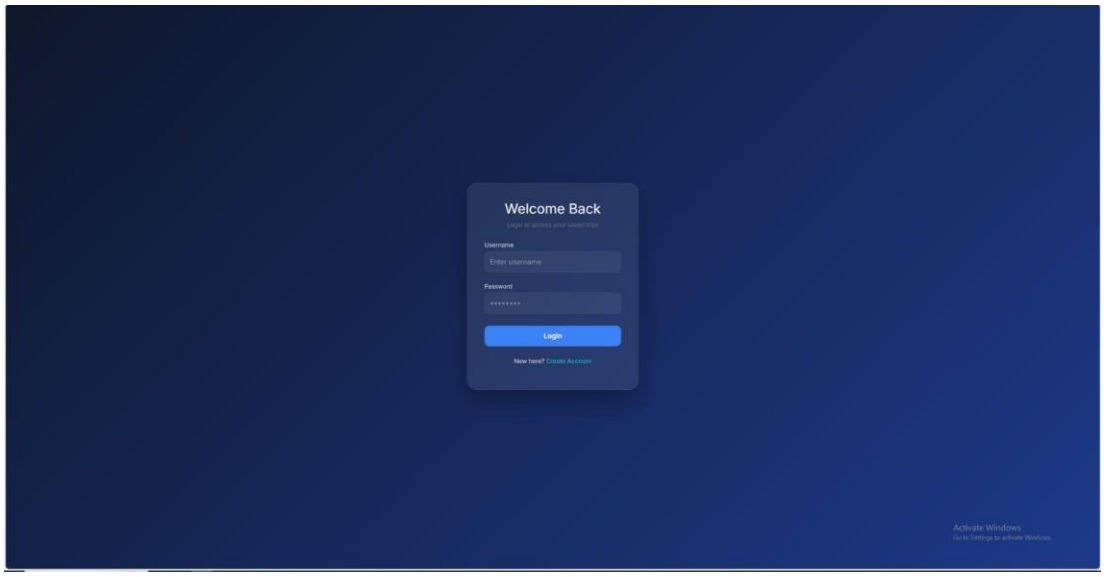

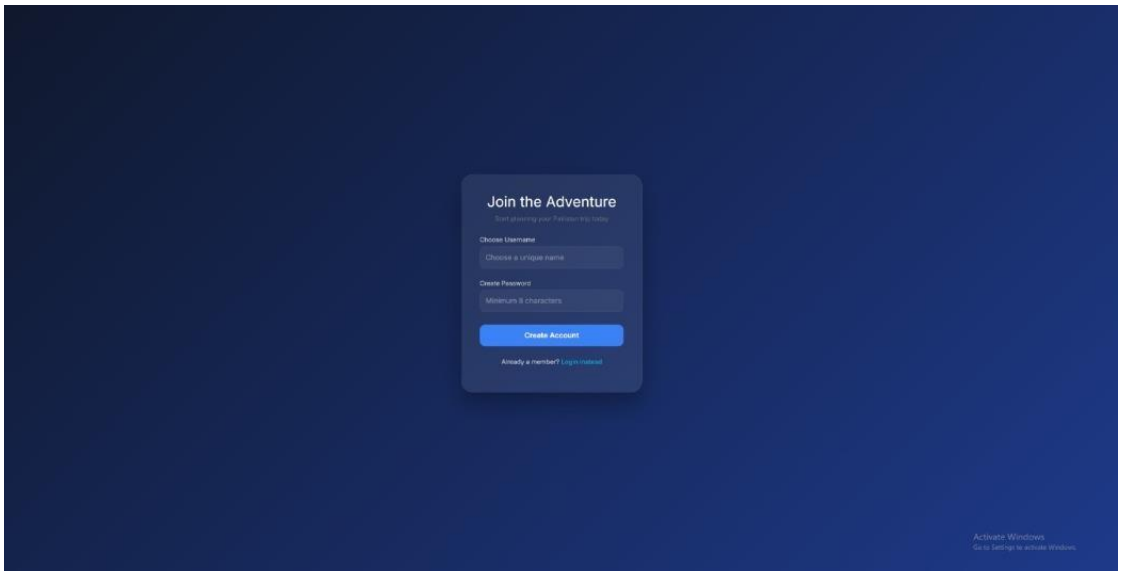

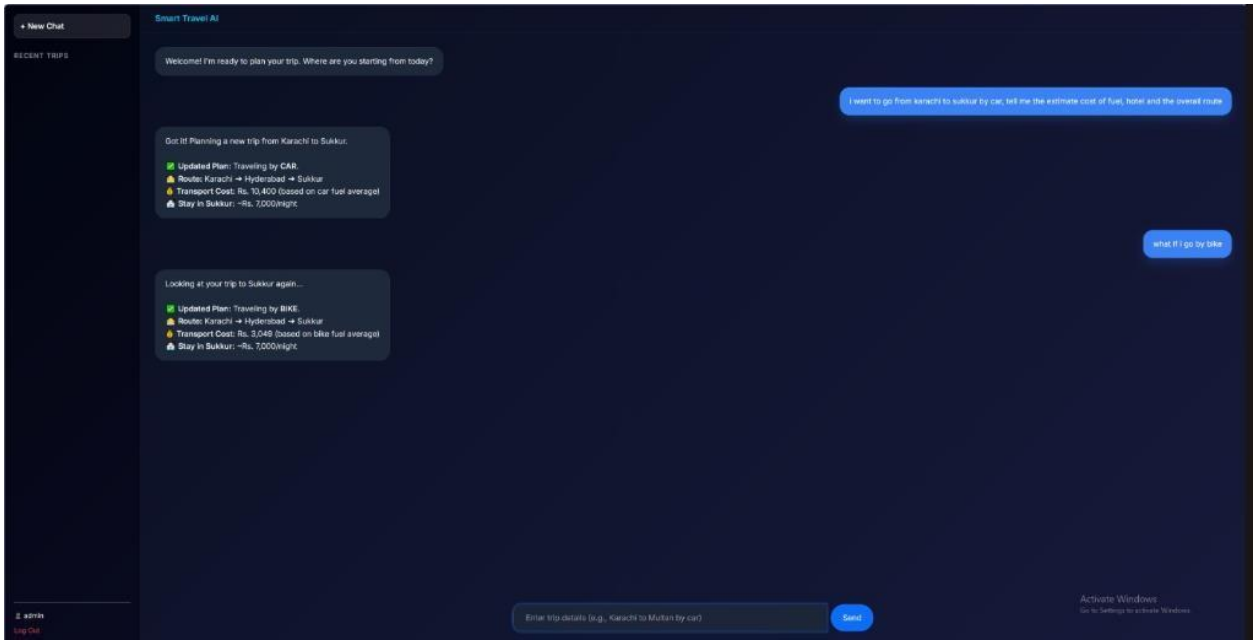

15. Future Work

While the current system meets all primary objectives, there are several avenues for future enhancement. The most significant upgrade would be the integration of the Google Maps API or real-time traffic data streams to allow for dynamic edge weighting; this would enable the system to route users around traffic jams in real-time. Another potential improvement is the evolution of the chatbot from a rule-based system to one powered by a Large Language Model (LLM), which would allow for natural, context-aware conversations. Finally, implementing a user authentication system would allow the application to support multiple users, each with their own private, secure travel history and preferences.

16. Conclusion

The "Pakistan Travel Assistant" project successfully demonstrates the effective application of Artificial Intelligence principles to solve real-world problems. By seamlessly integrating the A* algorithm for spatial navigation and the Random Forest algorithm for financial prediction, the system provides a comprehensive utility for travelers. The project not only fulfills the academic requirements of the Artificial Intelligence course but also showcases how theoretical algorithms can be deployed in a functional, full-stack web environment. The robust architecture and successful implementation of the core features provide a strong foundation for future development and technological scaling.

17. References

[1] P. E. Hart, N. J. Nilsson, and B. Raphael, "A Formal Basis for the Heuristic Determination of Minimum Cost Paths," *IEEE Transactions on Systems Science and Cybernetics*, vol. 4, no. 2, pp. 100–107, 1968. [2] L. Breiman, "Random Forests," *Machine Learning*, vol. 45, no. 1, pp. 5–32,

2001. [3] NetworkX Developers, "NetworkX Documentation," 2024. [Online]. Available: https://networkx.org/. [4] Flask Project, "Flask Documentation," 2024. [Online]. Available: https://flask.palletsprojects.com/. [5] Bahria University, "Project Report Guidelines," *Department of Computer Science*, 2025.

18. PROJECT LINK:

https://drive.google.com/drive/folders/1FOUoPTgflZr9vqoH4sorvGS9wbBHKDdN?usp=sharing